Chicago 311 Dashboard — Static Figures

```
Data loaded: 326,139 rows, 81 service types
```

Tab 1 — Overview

Figure 1: Monthly Request Volume

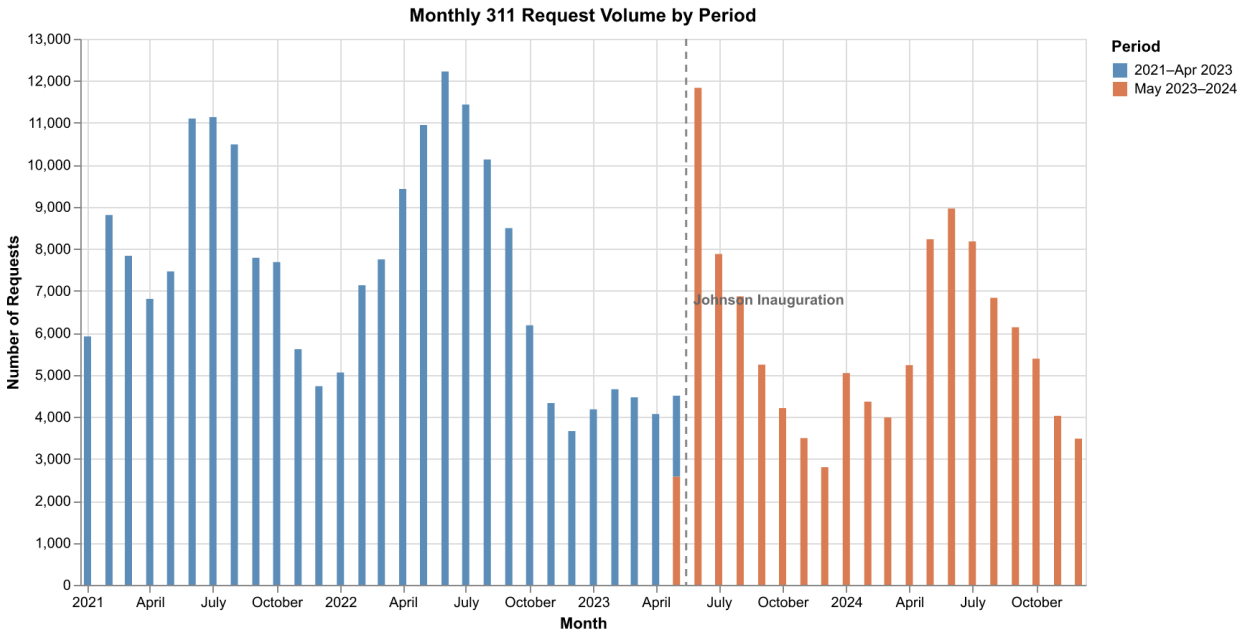

Figure 2: Top Service Categories

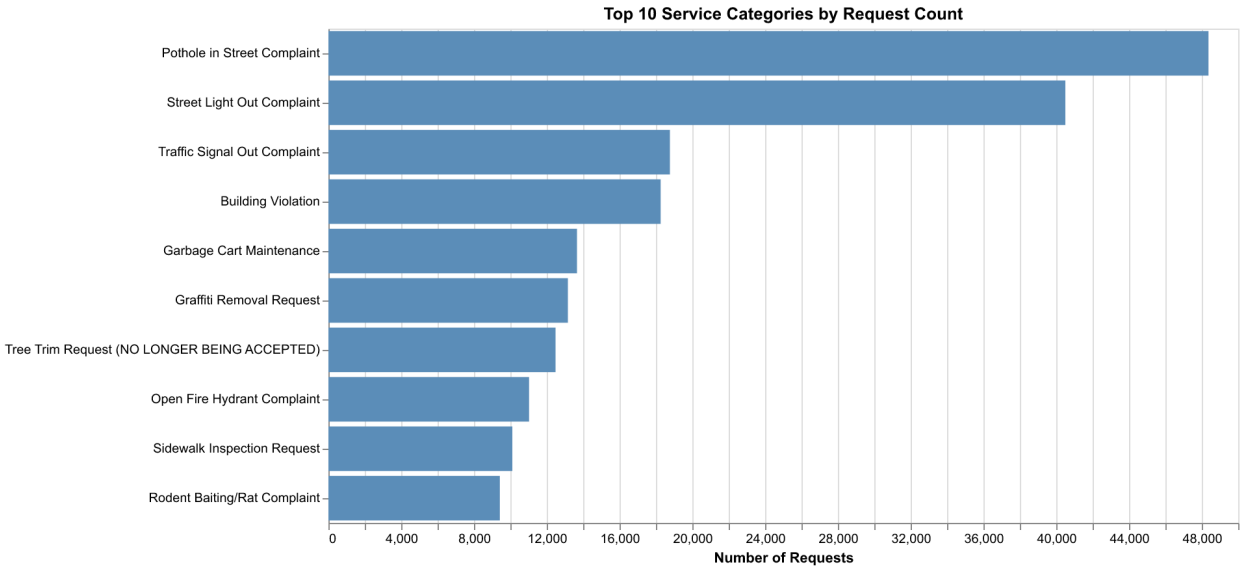

Figure 3: Service Mix Over Time (Top 4)

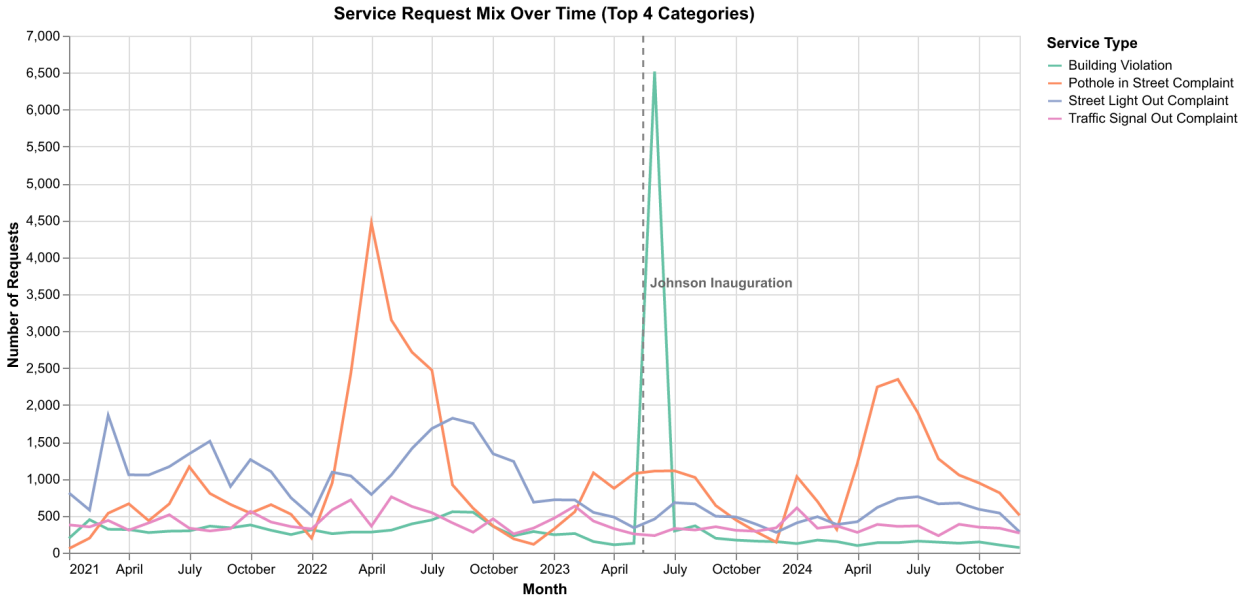

Tab 2 — Response Times

Figure 4: Response Time Shift (Faster vs Slower)

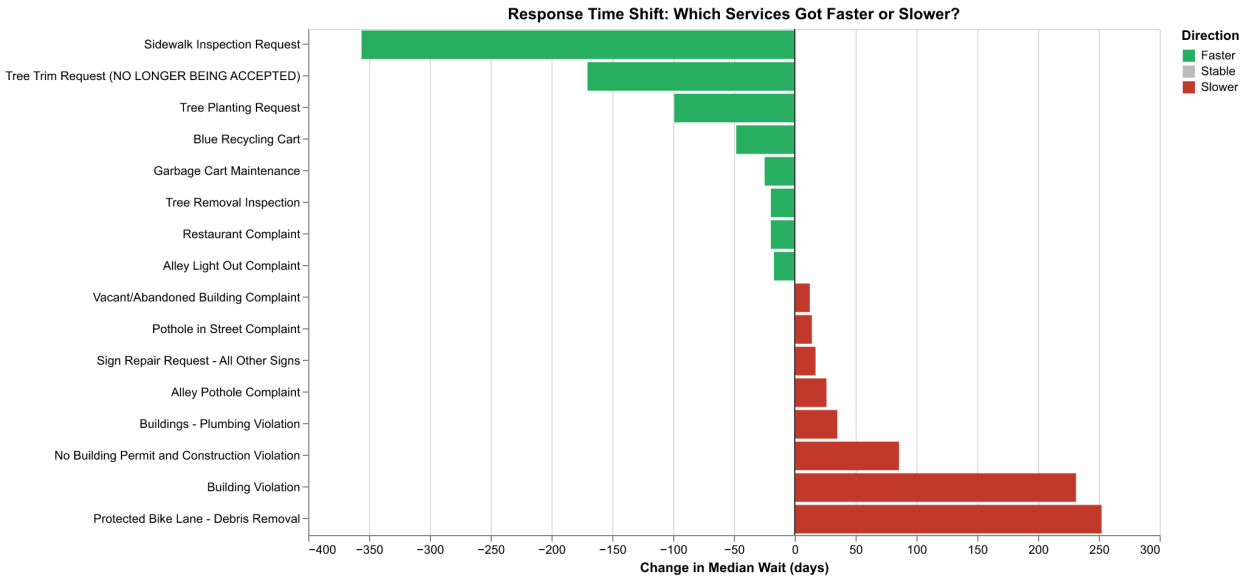

Figure 4b: Single Service Response Time Drill-Down

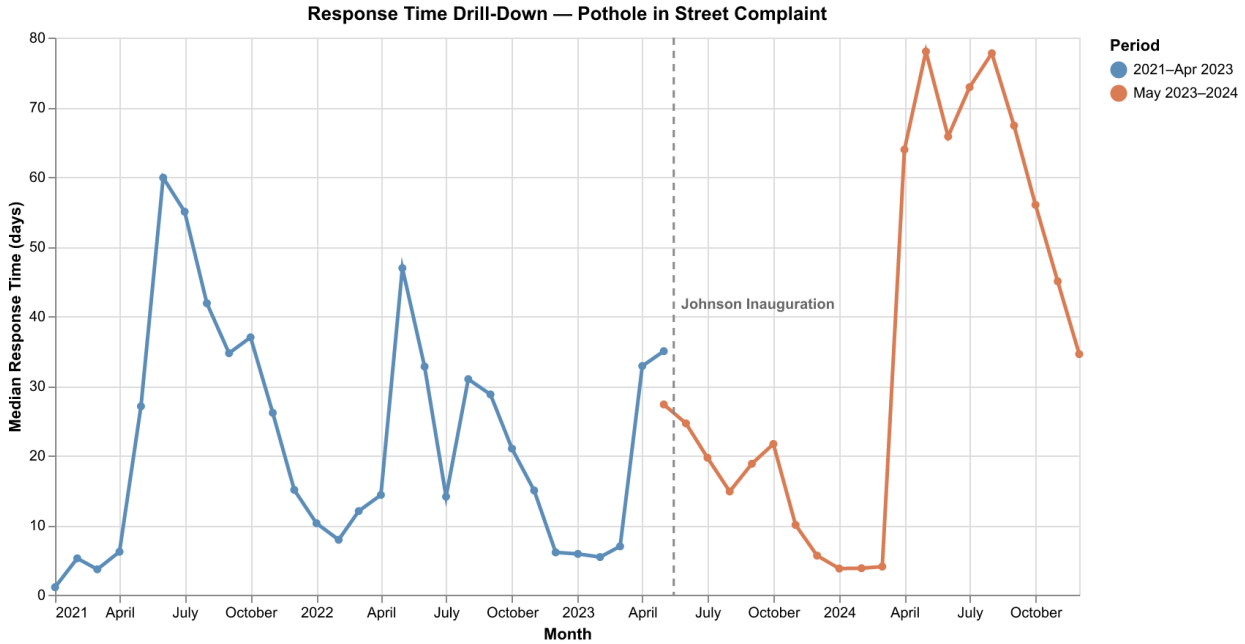

Tab 3 — Equity & Income

Figure 5: Median Wait by Income Quintile & Period

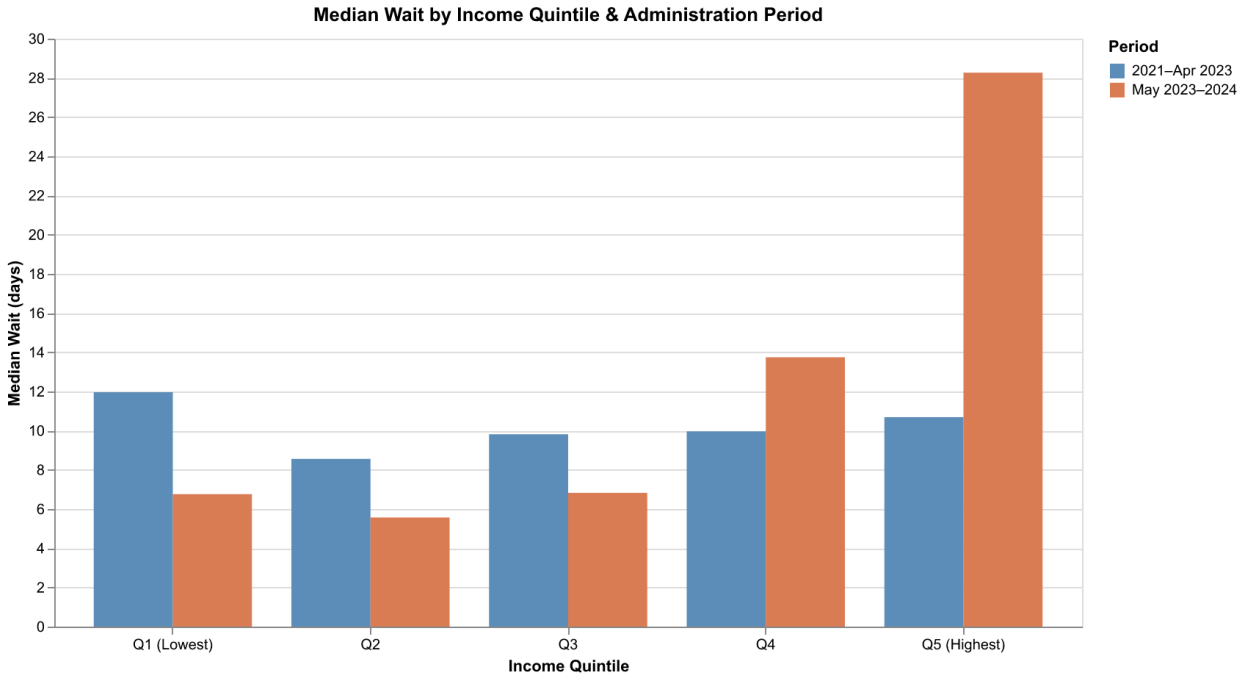

Figure 6: Service Type × Income Quintile Heatmap

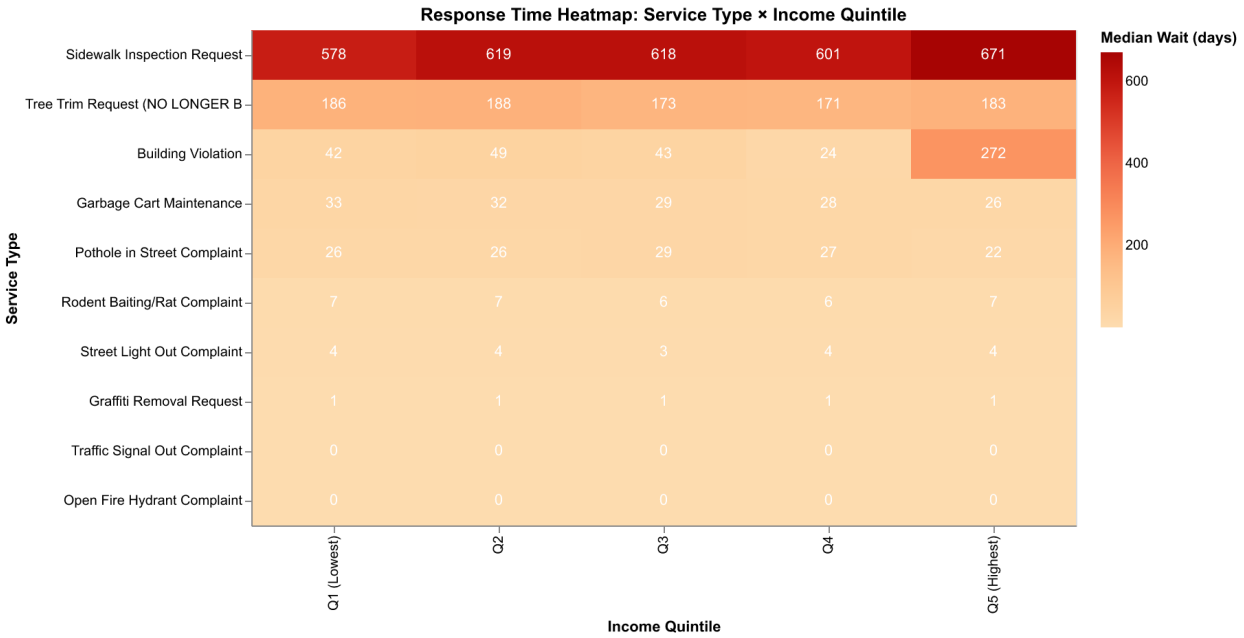

Figure 7: Request Volume by Income Quintile

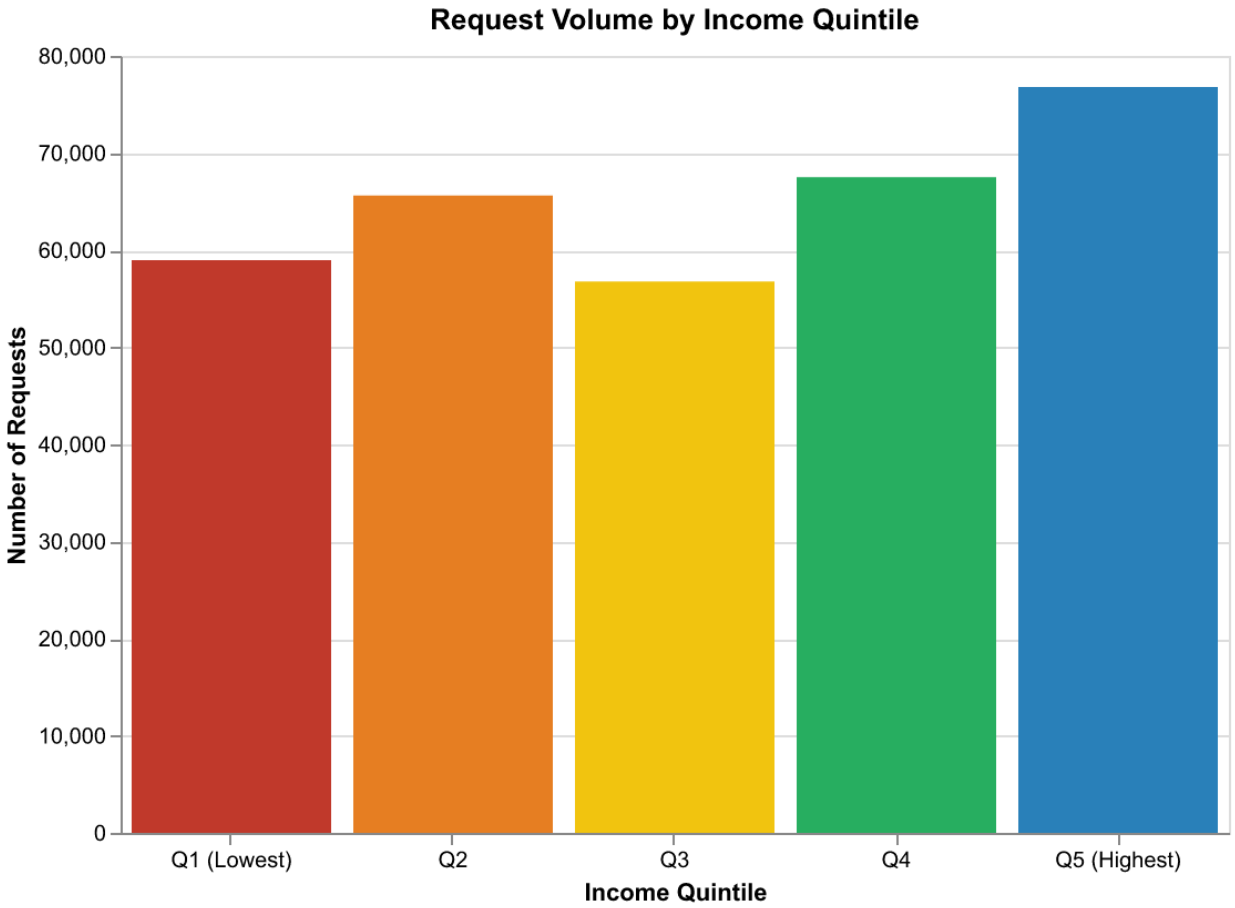

Tab 4 — Geography

Figure 8a: Median Response Time by Community Area

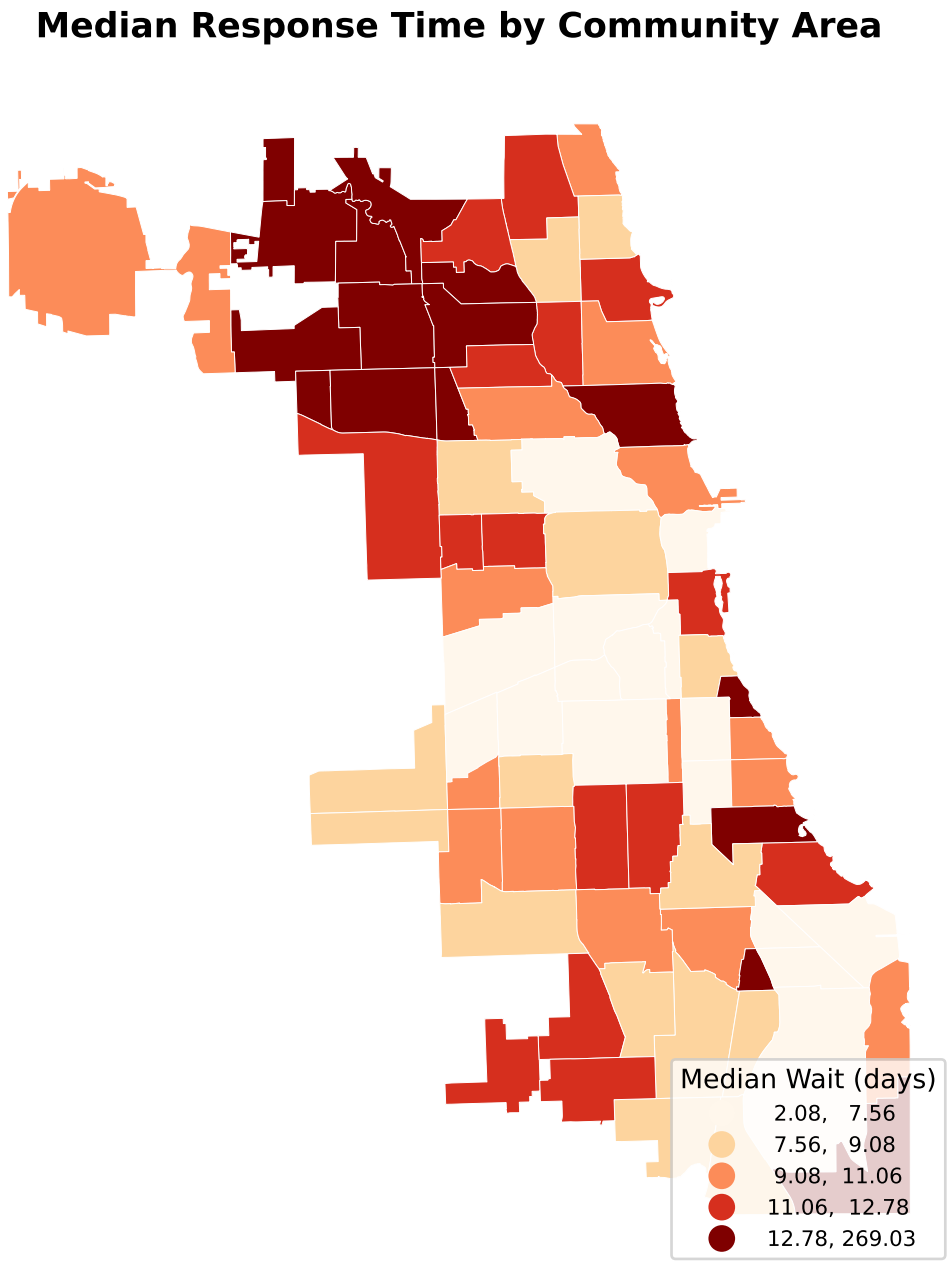

Figure 8b: Total Requests by Community Area

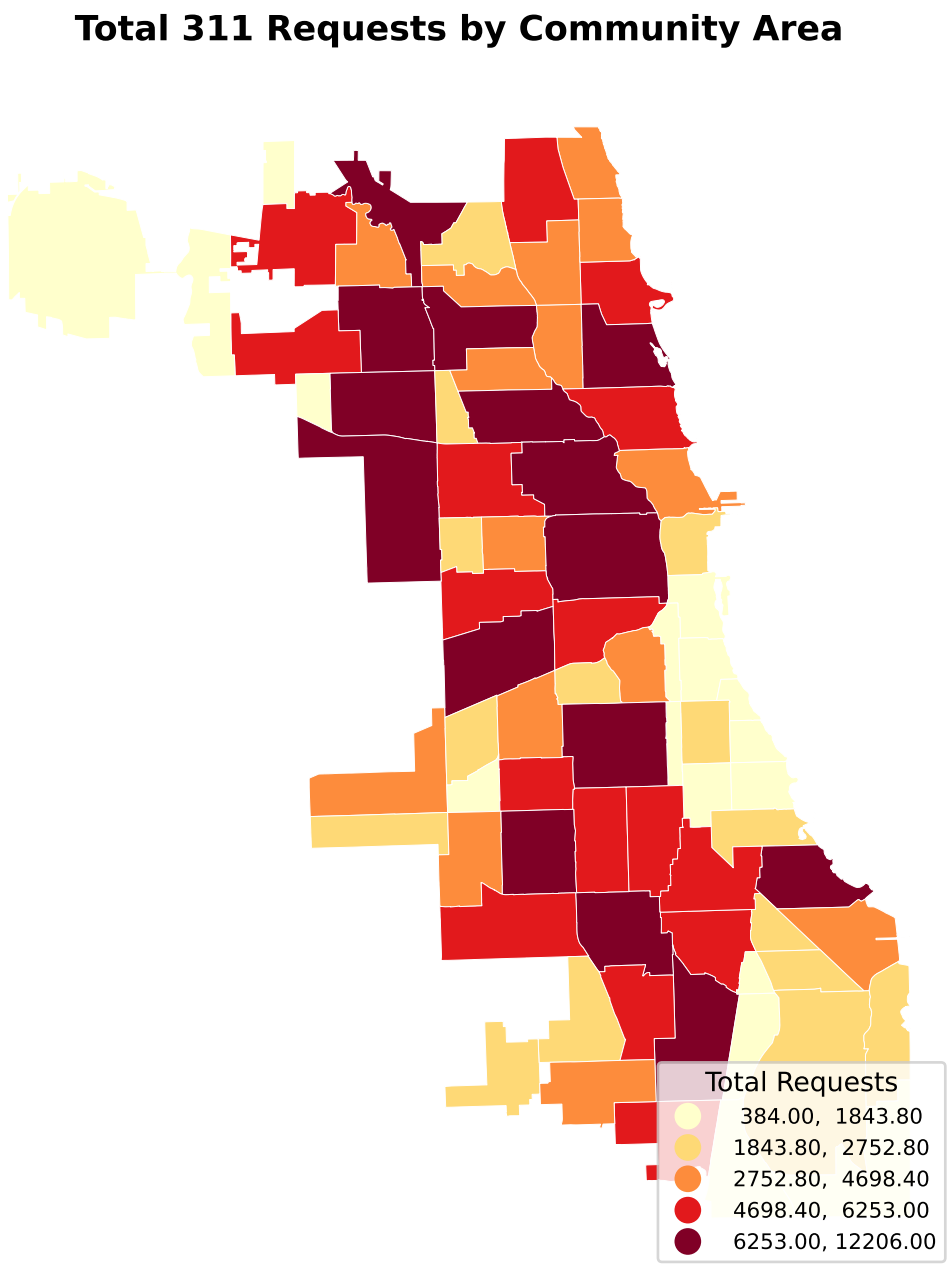

Figure 8c: Requests per 1,000 Residents by Community Area

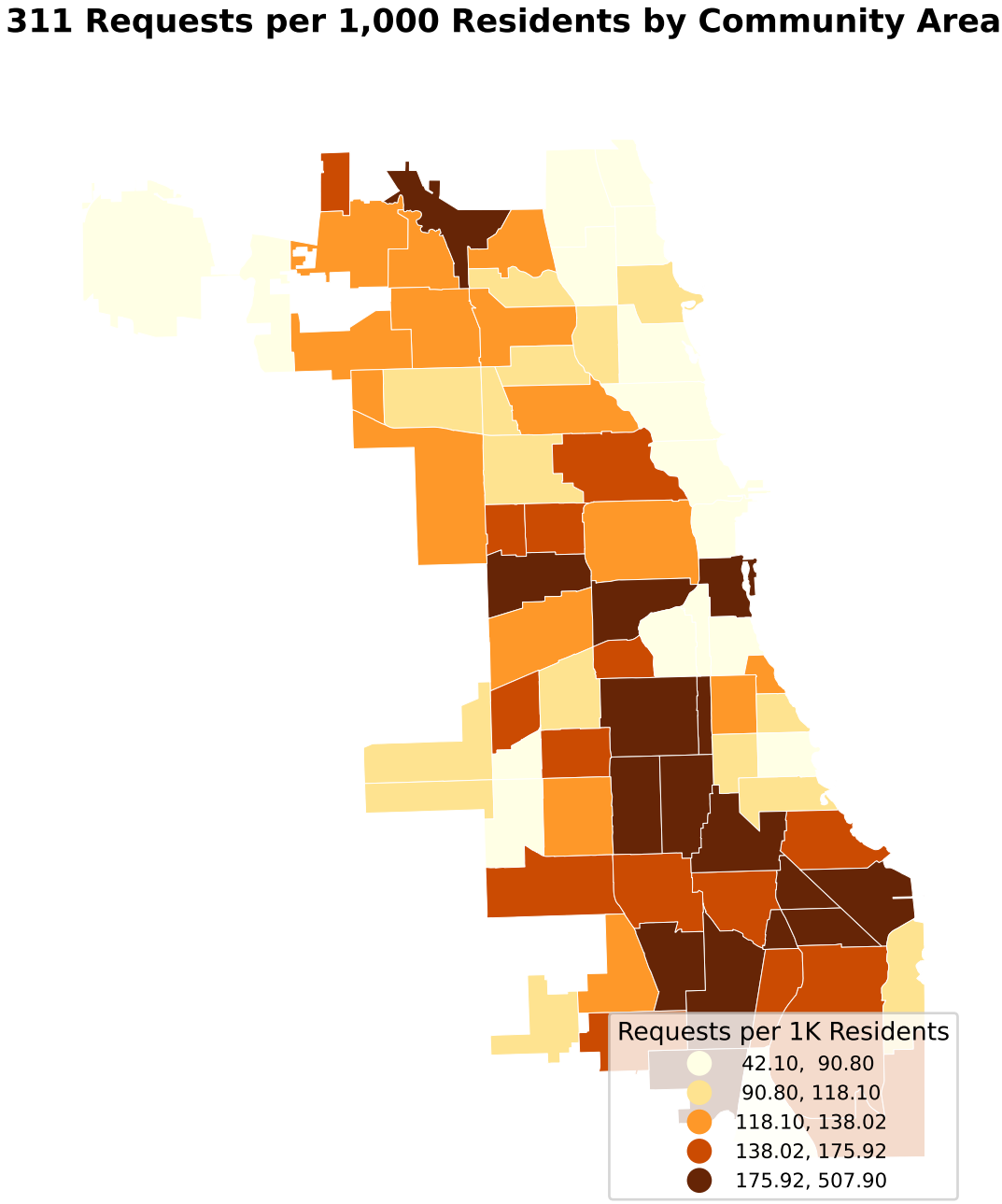

Figure 8d: Median Household Income by Community Area

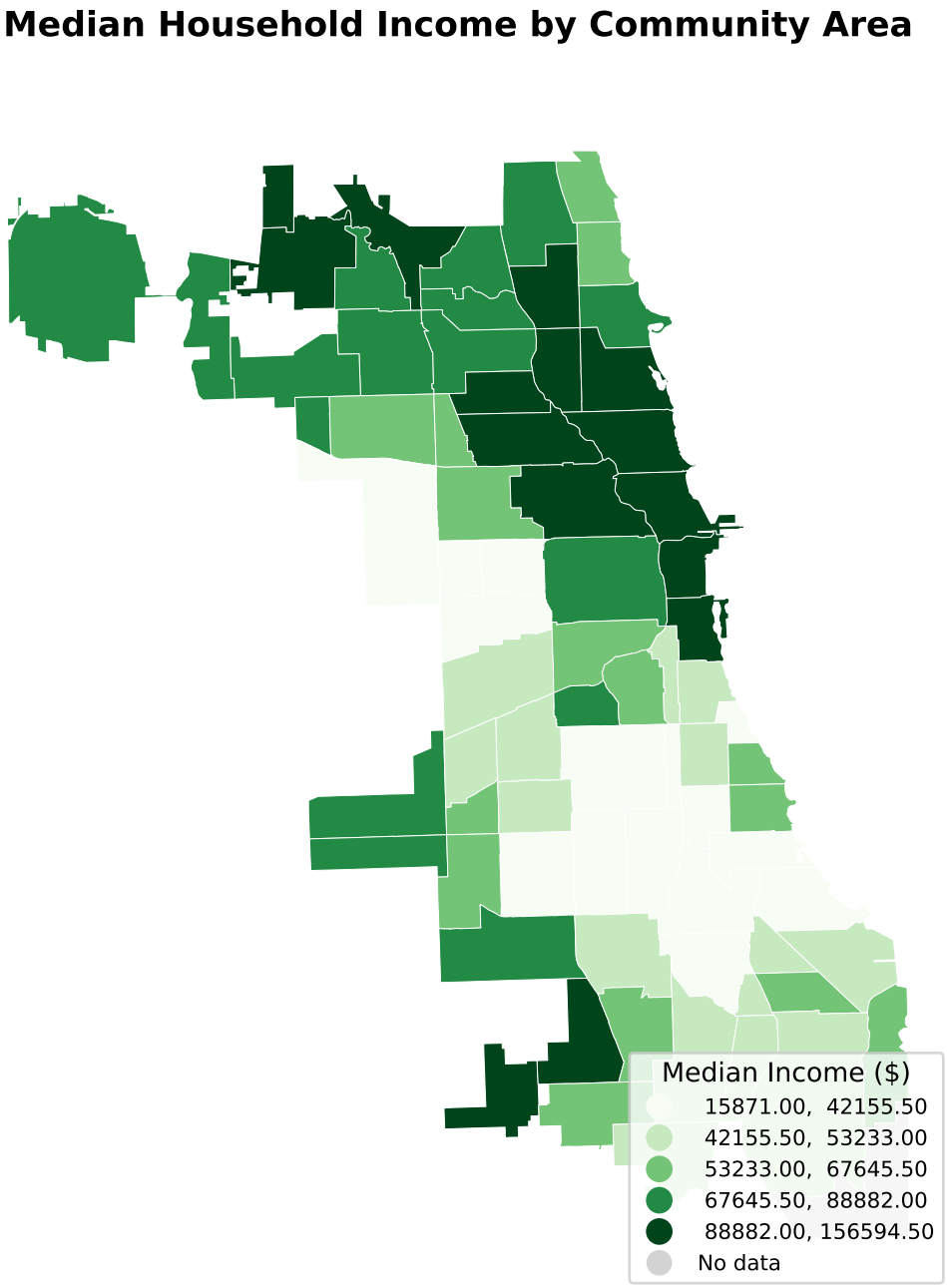

Figure 8e: Poverty Rate by Community Area

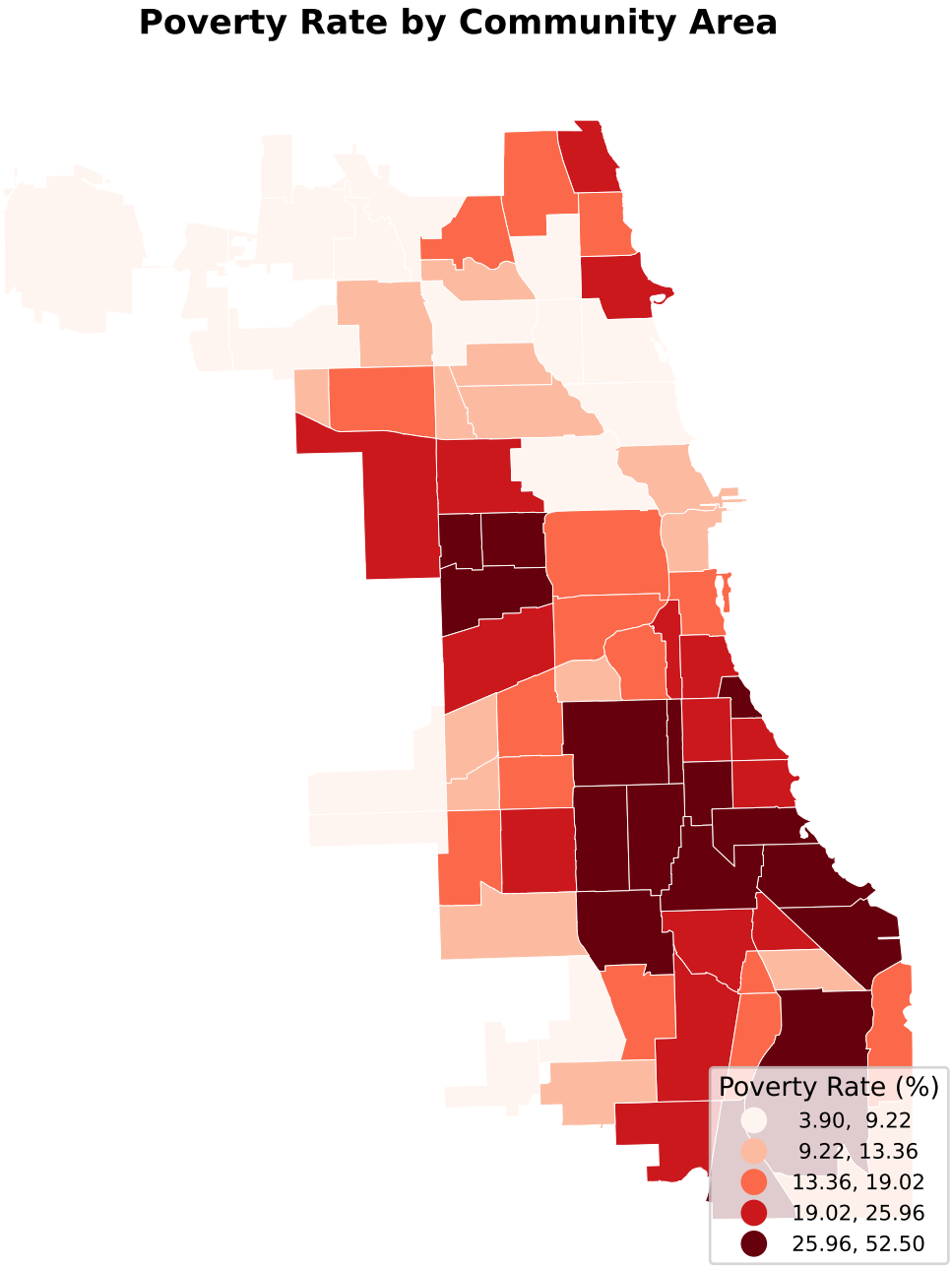

Tab 5 — Neighborhoods

Figure 9: Top 20 Neighborhoods by Request Volume

Top 20 Neighborhoods by 311 Request Volume

Neighborhood	Income Quintile	Requests	Median Wait (days)	% Over 30 Days
AUSTIN	Q2	12206	11.7	35.7
WEST TOWN	Q5 (Highest)	11623	7.5	31.4
FOREST GLEN	Q5 (Highest)	10084	269.0	75.7
SOUTH LAWNDALE	Q2	9323	3.6	26.4
LOGAN SQUARE	Q5 (Highest)	8740	10.2	36.4
PORTAGE PARK	Q4	8597	18.3	41.1
ROSELAND	Q2	8475	7.8	27.2
BELMONT CRAGIN	Q3	8140	14.2	38.1
AUBURN GRESHAM	Q2	7876	9.3	30.7
NEAR WEST SIDE	Q4	7822	9.0	33.5
IRVING PARK	Q4	7128	12.9	36.5
CHICAGO LAWN	Q1 (Lowest)	7124	9.2	31.3
NEW CITY	Q1 (Lowest)	6577	3.7	25.5
SOUTH SHORE	Q1 (Lowest)	6542	11.9	34.7
LAKE VIEW	Q5 (Highest)	6477	10.0	33.6
WEST PULLMAN	Q2	6253	8.0	26.4
LOWER WEST SIDE	Q3	6253	3.2	24.5
HUMBOLDT PARK	Q3	6098	8.8	33.0
ASHBURN	Q4	5954	8.2	32.2
UPTOWN	Q4	5895	11.6	28.3

Figure 10a: Top Services in Most-Requested Neighborhood

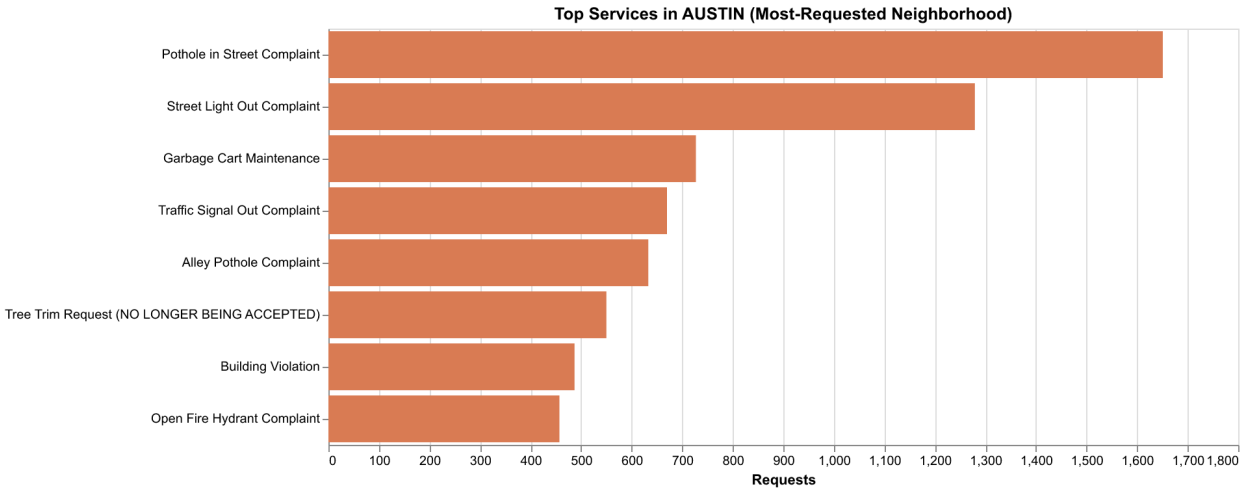

Figure 10b: Monthly Request Trend in Most-Requested Neighborhood

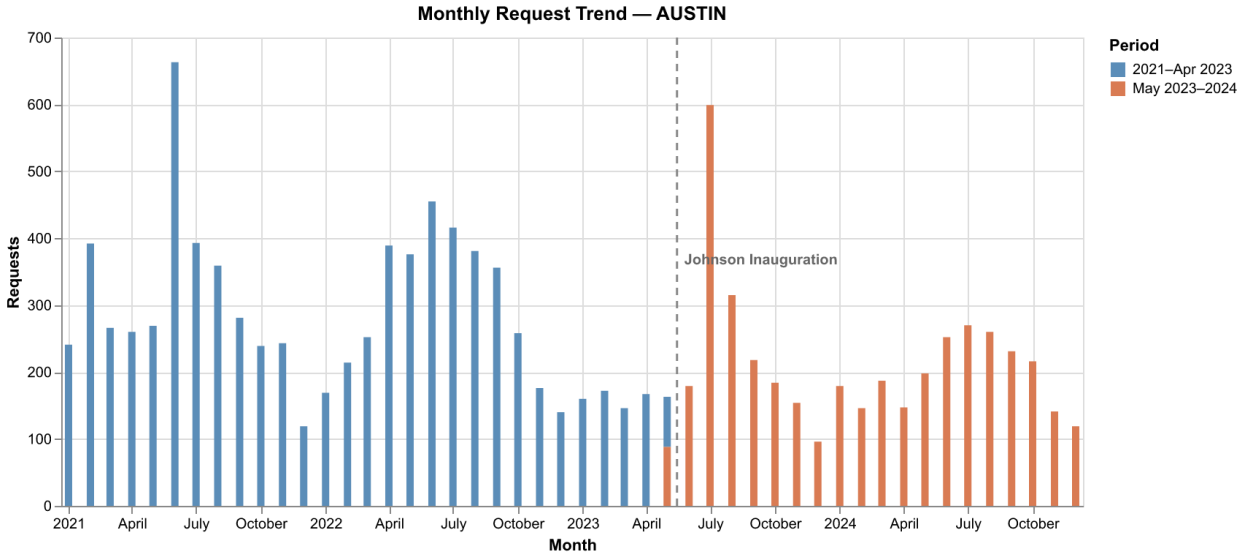

Summary

fig01_monthly_volume.png	569 KB
fig01_regime_time_series.png	445 KB
fig02_request_volume.png	340 KB
fig02_sorted_bar_volume.png	293 KB
fig02_top_categories.png	328 KB
fig03_service_mix.png	408 KB
fig04_response_shift.png	389 KB
fig04b_drill_down.png	350 KB
fig05_quintile_wait.png	167 KB
fig06_concentration_curve.png	296 KB
fig06_heatmap.png	227 KB
fig07_spatial_change_map.png	183 KB
fig07_volume_quintile.png	129 KB
fig08a_choropleth_wait.png	139 KB
fig08b_choropleth_total.png	148 KB
fig08c_choropleth_per1k.png	145 KB
fig08d_choropleth_income.png	160 KB
fig08e_choropleth_poverty.png	138 KB
fig09_neighborhoods_table.png	210 KB
fig10a_nbr_top_services.png	250 KB
fig10b_nbr_monthly_trend.png	396 KB